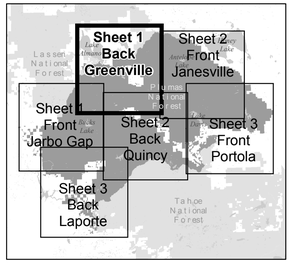
Motor Vehicle Use Map

Plumas National Forest
Greenville

California Forest Service 2019

United States Department of Agriculture

INDEX MAP



Maps on the Go!
Scan here to access on your Smart Device.

FS-873-503

OPERATOR RESPONSIBILITIES

Operating a motor vehicle on National Forest System roads, National Forest System trails, and in areas on National Forest System lands carries a greater responsibility than operating that vehicle in a city or other developed setting. Not only must you know and follow all applicable traffic laws, you need to show concern for the environment as well as other forest users. The misuse of motor vehicles can lead to the temporary or permanent closure of any designated road, trail, or area. As a motor vehicle operator, you are also subject to State traffic law, including State requirements for licensing, registration, and operation of the vehicle in question.

Motor vehicle use, especially off-highway vehicle use, involves inherent risks that may cause property damage, serious injury, and possibly death to participants. Drive cautiously and anticipate rough surfaces and features, such as snow, mud, vegetation, and water crossings common to remote driving conditions. By your participation, you voluntarily assume full responsibility for these damages, risks, and dangers. Take care at all times to protect yourself and those under your responsibility.

Much of the Plumas National Forest is remote. Medical assistance may not be readily available. Cellular telephones do not work in many areas of the Plumas National Forest. Take adequate food, water, first aid supplies, and other equipment appropriate for the conditions and expected weather.

ALWAYS REMEMBER TO RESPECT PRIVATE LAND! PROTECT YOUR PRIVILEGE. STAY ON DESIGNATED ROADS AND TRAILS AND IN DESIGNATED AREAS.

Read and understand this map in its entirety. If you have questions please contact the Plumas National Forest for clarification.

As a motor vehicle operator on a National Forest System road, trail, or area, you must comply with this map, as well as all Federal, State, and local laws and regulations. Compliance with these rules is your responsibility.

PROHIBITIONS

It is prohibited to possess or operate a motor vehicle on National Forest System lands on the Plumas National Forest other than in accordance with these designations (36 CFR 261.13).

Violators of 36 CFR 261.13 are subject to a fine of up to $5,000, or imprisonment for up to 6 months or both (18 U.S.C. 3571(e)). This prohibition applies regardless of the presence or absence of signs.

This map does not display nonmotorized uses, over-snow vehicle uses, or other facilities and attractions on the Plumas National Forest. Obtain forest visitor information from the local national forest office.

Designated roads, trails, and areas may also be subject to temporary, emergency closures. As a visitor, you must comply with signs notifying you of such restrictions. A national forest may issue an order to close a road, trail, or area on a temporary basis to protect the life, health or safety of forest visitors or the natural or cultural resources in these areas. Such temporary and/or emergency closures are consistent with the Travel Management Rule (36 CFR 212.52 (b), 36 CFR 261 subpart B).

The designation "road or trail open to all motor vehicles" does not supersede State traffic law.

Legend

- Roads Open to Highway Legal Vehicles
- Roads Open to All Vehicles
- Trails Open to All Vehicles
- Trails Open to Wheeled Vehicles 50" or Less in Width
- Trails Open to Motorcycles Only
- Seasonal Designation
- Highways, US, State, County
- Other Public Roads
- 09N50B — Roads or Trails Less Than 0.25 mile (1320 feet) - See Table
- FS Campground
- Picnic Area
- Motorized Trailhead
- Information Site
- Peaks
- Forest or Unit Boundary
- National Forest System Lands
- Non-National Forest System Lands within the National Forest
- Wilderness Areas
- Large Lakes

N

0 1 2 Miles

North American Datum of 1983 (NAD 83)
Universal Transverse Mercator, zone 10

The U.S. Department of Agriculture (USDA) prohibits discrimination in all its programs and activities on the basis of race, color, national origin, age, disability, and where applicable, sex, marital status, familial status, parental status, religion, sexual orientation, genetic information, political beliefs, reprisal, or because all or part of an individual's income is derived from any public assistance program. (Not all prohibited bases apply to all programs.) Persons with disabilities who require alternative means for communication of program information (Braille, large print, audiotape, etc.) should contact USDA's TARGET Center at (202) 720-2600 (voice and TDD). To file a complaint of discrimination, write to USDA, Director, Office of Civil Rights, 1400 Independence Avenue, S.W., Washington, D.C. 20250-9410, or call (800) 795-3272 (voice) or (202) 720-6382 (TDD). USDA is an equal opportunity provider and employer.

Parking Along Designated Routes

Motor vehicles may be parked within one vehicle length from the edge of the road surface when it is safe to do so without causing damage to NFS resources or facilities, unless prohibited by State law, a traffic sign, or an order (36 CFR 261.54).

PURPOSE AND CONTENTS OF THIS MAP

The designations shown on this motor vehicle use map (MVUM) were made by the responsible official pursuant to 36 CFR 212.51; are effective as of the date on the front cover of this MVUM; and will remain in effect until superseded by next year's MVUM.

Jerry K Bird

Forest Supervisor, Plumas National Forest

It is the responsibility of the user to acquire the current MVUM. This map shows the National Forest System roads, National Forest System trails, and the areas on National Forest System lands in the Plumas National Forest that are designated for motor vehicle use pursuant to 36 Code of Federal Regulations (CFR) 212.51. This MVUM also identifies the vehicle classes allowed on each route and in each area; and any seasonal restrictions that apply on those routes and in those areas.

Designation of a road, trail, or area for motor vehicle use by a particular class of vehicle under 36 CFR 212.51 should not be interpreted as encouraging or inviting use or implying that the road, trail, or area is passable, actively maintained, or safe for travel. Motor vehicle designations include parking along designated routes and at facilities associated with designated routes when it is safe to do so and when not causing damage to National Forest System resources. Seasonal weather conditions and natural events may render designated roads and trails impassable for extended periods. Designated areas may contain dangerous or impassable terrain. Many designated roads and trails may be passable only by high-clearance vehicles or four-wheel-drive vehicles. Maintenance of designated roads and trails will depend on available resources, and many may receive little maintenance.

This motor vehicle use map identifies those roads, trails, and areas designated for the motor vehicle use under 36 CFR 212.51 for the purpose of enforcing the prohibition at 36 CFR 261.13. This is a limited purpose. The other public roads are shown for information and navigation purposes only and are not subject to designation under the Forest Service travel management regulation.

These designations apply only to National Forest System roads, National Forest System trails, and areas on National Forest System lands.

tread lightly!® LEAVING A GOOD IMPRESSION

EXPLANATION OF LEGEND ITEMS

Roads Open to Highway Legal Vehicles Only:

These roads are open only to motor vehicles licensed under State law for general operation on all public roads within the State.

Roads Open to All Vehicles:

These roads are open to all motor vehicles, including smaller off-highway vehicles that may not be licensed for highway use (but not to oversize or overweight vehicles under State traffic law).

Trails Open to All Vehicles:

These trails are open to all motor vehicles, including both highway legal and nonhighway legal vehicles.

Trails Open to Wheeled Vehicles 50" or Less in Width:

These trails are open only to wheeled, motor vehicles less than 50 inches in width at the widest point on the vehicle.

Trails Open to Motorcycles Only:

These trails are open only to motorcycles. Sidecars are not permitted.

Seasonal Designation:

This symbol, used in conjunction with one of the other road or trail symbols, indicates that the road or trail is open only during certain portions of the year. Refer to the Seasonal Designation Table for further instructions.

Other Public Roads:

Highways, U.S., State, County
Other Public Roads

These symbols are used to show routes the Forest Service does not have jurisdiction over and has not designated for motorized use. These symbols are part of the reference layers showing connections to towns and cities outside the forest boundary.

Roads or Trails Less Than 0.25 Miles (1320 feet):

09N50B

This symbol is used for routes that are too short to show an actual symbol type on the map. The symbol contains the number of the road or trail. Users should refer to the corresponding number in the Short Route Table for designation information.

Motorized Trail Access:

This symbol indicates a trailhead for access to a motorized route. Not all motorized routes have trailheads and those that do may range from primitive to developed.

INFORMATION SOURCES

Forest Supervisor's Office
159 Lawrence Street
Quincy CA 95971
(530) 283-2050 TTY (530) 534-7984
http://www.fs.usda.gov/plumas

Beckwourth Ranger District
23 Mohawk Road
Blairsden CA 95103
(530) 836-2575

Mt Hough Ranger District
39696 Highway 70
Quincy CA 95971
(530) 283-0555

Feather River Ranger District
875 Mitchell Avenue
Oroville CA 95965
(530) 534-6500

In Case of Emergency
In case of medical or law enforcement emergencies, dial 911.
Please be advised that many areas of the forest are not covered by regular cell phone service.

Vicinity Map



Greenville Map - Roads Less Than .25 miles (1,320 ft)

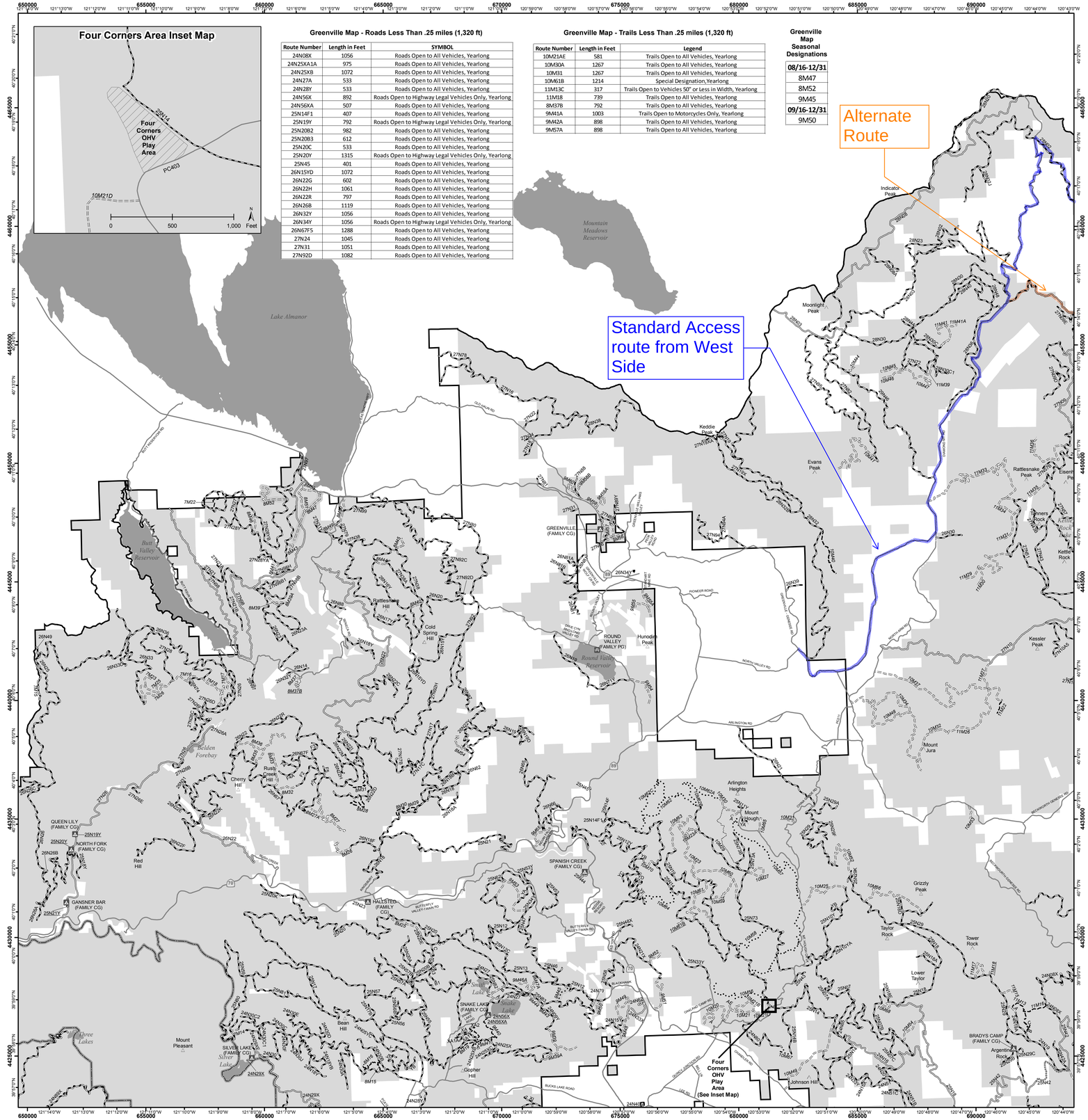
Route Number	Length in Feet	SYMBOL
24N08X	1056	Roads Open to All Vehicles, Yearlong
24N25XA1A	975	Roads Open to All Vehicles, Yearlong
24N25XB	1072	Roads Open to All Vehicles, Yearlong
24N27A	533	Roads Open to All Vehicles, Yearlong
24N28Y	533	Roads Open to All Vehicles, Yearlong
24N56X	892	Roads Open to Highway Legal Vehicles Only, Yearlong
24N56XA	507	Roads Open to All Vehicles, Yearlong
25N14F1	407	Roads Open to All Vehicles, Yearlong
25N19Y	792	Roads Open to Highway Legal Vehicles Only, Yearlong
25N20B2	982	Roads Open to All Vehicles, Yearlong
25N20B3	612	Roads Open to All Vehicles, Yearlong
25N20C	533	Roads Open to All Vehicles, Yearlong
25N20Y	1315	Roads Open to Highway Legal Vehicles Only, Yearlong
25N45	401	Roads Open to All Vehicles, Yearlong
26N15YD	1072	Roads Open to All Vehicles, Yearlong
26N22G	602	Roads Open to All Vehicles, Yearlong
26N22H	1061	Roads Open to All Vehicles, Yearlong
26N22R	797	Roads Open to All Vehicles, Yearlong
26N26B	1119	Roads Open to All Vehicles, Yearlong
26N32Y	1056	Roads Open to All Vehicles, Yearlong
26N34Y	1056	Roads Open to Highway Legal Vehicles Only, Yearlong
26N67F5	1288	Roads Open to All Vehicles, Yearlong
27N24	1045	Roads Open to All Vehicles, Yearlong
27N31	1051	Roads Open to All Vehicles, Yearlong
27N92D	1082	Roads Open to All Vehicles, Yearlong

Greenville Map - Trails Less Than .25 miles (1,320 ft)

Route Number	Length in Feet	Legend
10M21AE	581	Trails Open to All Vehicles, Yearlong
10M30A	1267	Trails Open to All Vehicles, Yearlong
10M31	1267	Trails Open to All Vehicles, Yearlong
10M61B	1214	Special Designation,Yearlong
11M13C	317	Trails Open to Vehicles 50" or Less in Width, Yearlong
11M18	739	Trails Open to All Vehicles, Yearlong
8M37B	792	Trails Open to All Vehicles, Yearlong
9M41A	1003	Trails Open to Motorcycles Only, Yearlong
9M42A	898	Trails Open to All Vehicles, Yearlong
9M57A	898	Trails Open to All Vehicles, Yearlong

Greenville Map Seasonal Designations

08/16-12/31
8M47
8M52
9M45
09/16-12/31
9M50


Alternate Route
Standard Access route from West Side
Four Corners OHV Play Area (See Inset Map)
Lake Almanor
Butt Valley Reservoir
Mountain Meadows Reservoir
Round Valley Reservoir
Silver Lake
Snake Lake
Three Lakes
Belden Forebay
Indicator Peak
Moonlight Peak
Keddie Peak
Evans Peak
Rattlesnake Peak
Dinners Rock
Kettle Rock
Kessler Peak
Hunoldts Peak
Mount Jura
Arlington Heights
Mount Hough
Grizzly Peak
Taylor Rock
Tower Rock
Lower Taylor
Johnson Hill
Gopher Hill
Mount Pleasant
Bean Hill
Rattlesnake Hill
Cold Spring Hill
Cherry Hill
Rusty Creek Hill
Red Hill
GREENVILLE (FAMILY CG)
ROUND VALLEY (FAMILY RV)
QUEEN LILY (FAMILY CG)
NORTH FORK (FAMILY CG)
GANSNER BAR (FAMILY CG)
HALSTED (FAMILY CG)
SPANISH CREEK (FAMILY CG)
SILVER LAKE (FAMILY CG)
SNAKE LAKE (FAMILY CG)
BRADYS CAMP (FAMILY CG)
Argentine Rock
Lake Rock
Lake Almanor West
Lake Almanor North
Lake Almanor Peninsula
Lake Almanor Dam
Old Highway 70
Pioneer Road
Arlington Road
Buckeye Road
Buckeye Lake Road
Butterfly Valley Tahoe Road
Beckwourth Genesee Rd
Spanish Creek Road
Quincy Cromberg Rd
Quincy Lake Almanor Rd
Mohawk Road
Blairsden Graeagle Rd
Graeagle Almanor Rd
Gold Mountain Rd
Johnsville Rd
Gopher Hill Rd
Bucks Lake Road
Oroville Quincy Hwy
Oroville Blairsden Hwy
Quincy Junction Rd
Meadow Valley Loop Rd
Meadow Valley Rd
North Valley Rd
Keddie Cutoff
Keddie Cutoff Rd
Keddie Cutoff Loop Rd
Greenville Wye Rd
Greenville Rd
Crescent Mills Rd
Taylorsville Rd
Taylorsville Cromberg Rd
Taylorsville Indian Valley Rd
Indian Valley Rd
Genesee Valley Rd
Genesee Taylorsville Rd
Genesee Rd
Lake Davis Rd
Lake Davis Dam Rd
Lake Davis Recreation Rd
Lake Davis Recreation Loop Rd
Lake Davis Recreation Spur Rd
Lake Davis Spur Rd
Lake Davis Spur Loop Rd
Lake Davis Spillway Rd
Lake Davis Dam Loop Rd
Lake Davis Dam Spur Rd
Lake Davis Dam Spur Loop Rd
Lake Davis Dam Spillway Rd
Lake Davis Dam Spillway Loop Rd
Lake Davis Dam Spillway Spur Rd
Lake Davis Dam Spillway Spur Loop Rd
Lake Davis Dam Spillway Spur Spillway Rd
Lake Davis Dam Spillway Spur Spillway Loop Rd
Lake Davis Dam Spillway Spur Spillway Spur Rd
Lake Davis Dam Spillway Spur Spillway Spur Loop Rd
Lake Davis Dam Spillway Spur Spillway Spur Spillway Rd
Lake Davis Dam Spillway Spur Spillway Spur Spillway Loop Rd
Lake Davis Dam Spillway Spur Spillway Spur Spillway Spur Rd
Lake Davis Dam Spillway Spur Spillway Spur Spillway Spur Loop Rd
Lake Davis Dam Spillway Spur Spillway Spur Spillway Spur Spillway Rd
Lake Davis Dam Spillway Spur Spillway Spur Spillway Spur Spillway Loop Rd
Lake Davis Dam Spillway Spur Spillway Spur Spillway Spur Spillway Spur Rd
Lake Davis Dam Spillway Spur Spillway Spur Spillway Spur Spillway Spur Loop Rd
Lake Davis Dam Spillway Spur Spillway Spur Spillway Spur Spillway Spur Spillway Rd
Lake Davis Dam Spillway Spur Spillway Spur Spillway Spur Spillway Spur Spillway Loop Rd
Lake Davis Dam Spillway Spur Spillway Spur Spillway Spur Spillway Spur Spillway Spur Rd
Lake Davis Dam Spillway Spur Spillway Spur Spillway Spur Spillway Spur Spillway Spur Loop Rd
Lake Davis Dam Spillway Spur Spillway Spur Spillway Spur Spillway Spur Spillway Spur Spillway Rd
Lake Davis Dam Spillway Spur Spillway Spur Spillway Spur Spillway Spur Spillway Spur Spillway Loop Rd
Lake Davis Dam Spillway Spur Spillway Spur Spillway Spur Spillway Spur Spillway Spur Spillway Spur Rd
Lake Davis Dam Spillway Spur Spillway Spur Spillway Spur Spillway Spur Spillway Spur Spillway Spur Loop Rd
Lake Davis Dam Spillway Spur Spillway Spur Spillway Spur Spillway Spur Spillway Spur Spillway Spur Spillway Rd
Lake Davis Dam Spillway Spur Spillway Spur Spillway Spur Spillway Spur Spillway Spur Spillway Spur Spillway Loop Rd
Lake Davis Dam Spillway Spur Spillway Spur Spillway Spur Spillway Spur Spillway Spur Spillway Spur Spillway Spur Rd
Lake Davis Dam Spillway Spur Spillway Spur Spillway Spur Spillway Spur Spillway Spur Spillway Spur Spillway Spur Loop Rd
Lake Davis Dam Spillway Spur Spillway Spur Spillway Spur Spillway Spur Spillway Spur Spillway Spur Spillway Spur Spillway Rd
Lake Davis Dam Spillway Spur Spillway Spur Spillway Spur Spillway Spur Spillway Spur Spillway Spur Spillway Spur Spillway Loop Rd
Lake Davis Dam Spillway Spur Spillway Spur Spillway Spur Spillway Spur Spillway Spur Spillway Spur Spillway Spur Spillway Spur Rd
Lake Davis Dam Spillway Spur Spillway Spur Spillway Spur Spillway Spur Spillway Spur Spillway Spur Spillway Spur Spillway Spur Loop Rd
Lake Davis Dam Spillway Spur Spillway Spur Spillway Spur Spillway Spur Spillway Spur Spillway Spur Spillway Spur Spillway Spur Spillway Rd
Lake Davis Dam Spillway Spur Spillway Spur Spillway Spur Spillway Spur Spillway Spur Spillway Spur Spillway Spur Spillway Spur Spillway Loop Rd
Lake Davis Dam Spillway Spur Spillway Spur Spillway Spur Spillway Spur Spillway Spur Spillway Spur Spillway Spur Spillway Spur Spillway Spur Rd
Lake Davis Dam Spillway Spur Spillway Spur Spillway Spur Spillway Spur Spillway Spur Spillway Spur Spillway Spur Spillway Spur Spillway Spur Loop Rd
Lake Davis Dam Spillway Spur Spillway Spur Spillway Spur Spillway Spur Spillway Spur Spillway Spur Spillway Spur Spillway Spur Spillway Spur Spillway Rd
Lake Davis Dam Spillway Spur Spillway Spur Spillway Spur Spillway Spur Spillway Spur Spillway Spur Spillway Spur Spillway Spur Spillway Spur Spillway Loop Rd
Lake Davis Dam Spillway Spur Spillway Spur Spillway Spur Spillway Spur Spillway Spur Spillway Spur Spillway Spur Spillway Spur Spillway Spur Spillway Spur Rd
Lake Davis Dam Spillway Spur Spillway Spur Spillway Spur Spillway Spur Spillway Spur Spillway Spur Spillway Spur Spillway Spur Spillway Spur Spillway Spur Loop Rd
Lake Davis Dam Spillway Spur Spillway Spur Spillway Spur Spillway Spur Spillway Spur Spillway Spur Spillway Spur Spillway Spur Spillway Spur Spillway Spur Spillway Rd
Lake Davis Dam Spillway Spur Spillway Spur Spillway Spur Spillway Spur Spillway Spur Spillway Spur Spillway Spur Spillway Spur Spillway Spur Spillway Spur Spillway Spur Loop Rd
Lake Davis Dam Spillway Spur Spillway Spur Spillway Spur Spillway Spur Spillway Spur Spillway Spur Spillway Spur Spillway Spur Spillway Spur Spillway Spur Spillway Spur Spillway Rd
Lake Davis Dam Spillway Spur Spillway Spur Spillway Spur Spillway Spur Spillway Spur Spillway Spur Spillway Spur Spillway Spur Spillway Spur Spillway Spur Spillway Spur Spillway Spur Loop Rd
Lake Davis Dam Spillway Spur Spillway Spur Spillway Spur Spillway Spur Spillway Spur Spillway Spur Spillway Spur Spillway Spur Spillway Spur Spillway Spur Spillway Spur Spillway Spur Spillway Rd
Lake Davis Dam Spillway Spur Spillway Spur Spillway Spur Spillway Spur Spillway Spur Spillway Spur Spillway Spur Spillway Spur Spillway Spur Spillway Spur Spillway Spur Spillway Spur Spillway Spur Loop Rd
Lake Davis Dam Spillway Spur Spillway Spur Spillway Spur Spillway Spur Spillway Spur Spillway Spur Spillway Spur Spillway Spur Spillway Spur Spillway Spur Spillway Spur Spillway Spur Spillway Spur Spillway Rd
Lake Davis Dam Spillway Spur Spillway Spur Spillway Spur Spillway Spur Spillway Spur Spillway Spur Spillway Spur Spillway Spur Spillway Spur Spillway Spur Spillway Spur Spillway Spur Spillway Spur Spillway Spur Loop Rd
Lake Davis Dam Spillway Spur Spillway Spur Spillway Spur Spillway Spur Spillway Spur Spillway Spur Spillway Spur Spillway Spur Spillway Spur Spillway Spur Spillway Spur Spillway Spur Spillway Spur Spillway Spur Spillway Rd
Lake Davis Dam Spillway Spur Spillway Spur Spillway Spur Spillway Spur Spillway Spur Spillway Spur Spillway Spur Spillway Spur Spillway Spur Spillway Spur Spillway Spur Spillway Spur Spillway Spur Spillway Spur Spillway Spur Loop Rd
Lake Davis Dam Spillway Spur Spillway Spur Spillway Spur Spillway Spur Spillway Spur Spillway Spur Spillway Spur Spillway Spur Spillway Spur Spillway Spur Spillway Spur Spillway Spur Spillway Spur Spillway Spur Spillway Spur Rd
Lake Davis Dam Spillway Spur Spillway Spur Spillway Spur Spillway Spur Spillway Spur Spillway Spur Spillway Spur Spillway Spur Spillway Spur Spillway Spur Spillway Spur Spillway Spur Spillway Spur Spillway Spur Spillway Spur Loop Rd
Lake Davis Dam Spillway Spur Spillway Spur Spillway Spur Spillway Spur Spillway Spur Spillway Spur Spillway Spur Spillway Spur Spillway Spur Spillway Spur Spillway Spur Spillway Spur Spillway Spur Spillway Spur Spillway Spur Spillway Rd
Lake Davis Dam Spillway Spur Spillway Spur Spillway Spur Spillway Spur Spillway Spur Spillway Spur Spillway Spur Spillway Spur Spillway Spur Spillway Spur Spillway Spur Spillway Spur Spillway Spur Spillway Spur Spillway Spur Spillway Spur Loop Rd
Lake Davis Dam Spillway Spur Spillway Spur Spillway Spur Spillway Spur Spillway Spur Spillway Spur Spillway Spur Spillway Spur Spillway Spur Spillway Spur Spillway Spur Spillway Spur Spillway Spur Spillway Spur Spillway Spur Spillway Spur Rd
Lake Davis Dam Spillway Spur Spillway Spur Spillway Spur Spillway Spur Spillway Spur Spillway Spur Spillway Spur Spillway Spur Spillway Spur Spillway Spur Spillway Spur Spillway Spur Spillway Spur Spillway Spur Spillway Spur Spillway Spur Loop Rd
Lake Davis Dam Spillway Spur Spillway Spur Spillway Spur Spillway Spur Spillway Spur Spillway Spur Spillway Spur Spillway Spur Spillway Spur Spillway Spur Spillway Spur Spillway Spur Spillway Spur Spillway Spur Spillway Spur Spillway Spur Spillway Rd
Lake Davis Dam Spillway Spur Spillway Spur Spillway Spur Spillway Spur Spillway Spur Spillway Spur Spillway Spur Spillway Spur Spillway Spur Spillway Spur Spillway Spur Spillway Spur Spillway Spur Spillway Spur Spillway Spur Spillway Spur Spillway Spur Loop Rd
Lake Davis Dam Spillway Spur Spillway Spur Spillway Spur Spillway Spur Spillway Spur Spillway Spur Spillway Spur Spillway Spur Spillway Spur Spillway Spur Spillway Spur Spillway Spur Spillway Spur Spillway Spur Spillway Spur Spillway Spur Spillway Spur Rd
Lake Davis Dam Spillway Spur Spillway Spur Spillway Spur Spillway Spur Spillway Spur Spillway Spur Spillway Spur Spillway Spur Spillway Spur Spillway Spur Spillway Spur Spillway Spur Spillway Spur Spillway Spur Spillway Spur Spillway Spur Spillway Spur Loop Rd
Lake Davis Dam Spillway Spur Spillway Spur Spillway Spur Spillway Spur Spillway Spur Spillway Spur Spillway Spur Spillway Spur Spillway Spur Spillway Spur Spillway Spur Spillway Spur Spillway Spur Spillway Spur Spillway Spur Spillway Spur Spillway Spur Spillway Rd
Lake Davis Dam Spillway Spur Spillway Spur Spillway Spur Spillway Spur Spillway Spur Spillway Spur Spillway Spur Spillway Spur Spillway Spur Spillway Spur Spillway Spur Spillway Spur Spillway Spur Spillway Spur Spillway Spur Spillway Spur Spillway Spur Spillway Spur Loop Rd
Lake Davis Dam Spillway Spur Spillway Spur Spillway Spur Spillway Spur Spillway Spur Spillway Spur Spillway Spur Spillway Spur Spillway Spur Spillway Spur Spillway Spur Spillway Spur Spillway Spur Spillway Spur Spillway Spur Spillway Spur Spillway Spur Spillway Spur Rd
Lake Davis Dam Spillway Spur Spillway Spur Spillway Spur Spillway Spur Spillway Spur Spillway Spur Spillway Spur Spillway Spur Spillway Spur Spillway Spur Spillway Spur Spillway Spur Spillway Spur Spillway Spur Spillway Spur Spillway Spur Spillway Spur Spillway Spur Loop Rd
Lake Davis Dam Spillway Spur Spillway Spur Spillway Spur Spillway Spur Spillway Spur Spillway Spur Spillway Spur Spillway Spur Spillway Spur Spillway Spur Spillway Spur Spillway Spur Spillway Spur Spillway Spur Spillway Spur Spillway Spur Spillway Spur Spillway Spur Spillway Rd
Lake Davis Dam Spillway Spur Spillway Spur Spillway Spur Spillway Spur Spillway Spur Spillway Spur Spillway Spur Spillway Spur Spillway Spur Spillway Spur Spillway Spur Spillway Spur Spillway Spur Spillway Spur Spillway Spur Spillway Spur Spillway Spur Spillway Spur Spillway Spur Loop Rd
Lake Davis Dam Spillway Spur

OPERATOR RESPONSIBILITIES

Operating a motor vehicle on National Forest System roads, National Forest System trails, and in areas on National Forest System lands carries a greater responsibility than operating that vehicle in a city or other developed setting. Not only must you know and follow all applicable traffic laws, you need to show concern for the environment as well as other forest users. The misuse of motor vehicles can lead to the temporary or permanent closure of any designated road, trail, or area. As a motor vehicle operator, you are also subject to State traffic law, including State requirements for licensing, registration, and operation of the vehicle in question.

Motor vehicle use, especially off-highway vehicle use, involves inherent risks that may cause property damage, serious injury, and possibly death to participants. Drive cautiously and anticipate rough surfaces and features, such as snow, mud, vegetation, and water crossings common to remote driving conditions. By your participation, you voluntarily assume full responsibility for these damages, risks, and dangers. Take care at all times to protect yourself and those under your responsibility.

Much of the Plumas National Forest is remote. Medical assistance may not be readily available. Cellular telephones do not work in many areas of the Plumas National Forest. Take adequate food, water, first aid supplies, and other equipment appropriate for the conditions and expected weather.

ALWAYS REMEMBER TO RESPECT PRIVATE LAND! PROTECT YOUR PRIVILEGE. STAY ON DESIGNATED ROADS AND TRAILS AND IN DESIGNATED AREAS.

Read and understand this map in its entirety. If you have questions please contact the Plumas National Forest for clarification.

As a motor vehicle operator on a National Forest System road, trail, or area, you must comply with this map, as well as all Federal, State, and local laws and regulations. Compliance with these rules is your responsibility.

PROHIBITIONS

It is prohibited to possess or operate a motor vehicle on National Forest System lands on the Plumas National Forest other than in accordance with these designations (36 CFR 261.13).

Violators of 36 CFR 261.13 are subject to a fine of up to $5,000, or imprisonment for up to 6 months or both (18 U.S.C. 3571(e)). This prohibition applies regardless of the presence or absence of signs.

This map does not display nonmotorized uses, over-snow vehicle uses, or other facilities and attractions on the Plumas National Forest. Obtain forest visitor information from the local national forest office.

Designated roads, trails, and areas may also be subject to temporary, emergency closures. As a visitor, you must comply with signs notifying you of such restrictions. A national forest may issue an order to close a road, trail, or area on a temporary basis to protect the life, health or safety of forest visitors or the natural or cultural resources in these areas. Such temporary and/or emergency closures are consistent with the Travel Management Rule (36 CFR 212.52 (b), 36 CFR 261 subpart B).

The designation "road or trail open to all motor vehicles" does not supersede State traffic law.

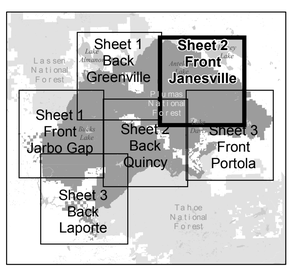
Motor Vehicle Use Map

Plumas National Forest
Janesville

California Forest Service 2019

United States Department of Agriculture

INDEX MAP



Maps on the Go!
Scan here to access on your Smart Device.

FS-873-503

Legend

- Roads Open to Highway Legal Vehicles
- Roads Open to All Vehicles
- Trails Open to All Vehicles
- Trails Open to Wheeled Vehicles 50" or Less in Width
- Trails Open to Motorcycles Only
- Seasonal Designation
- Highways, US, State, County
- Other Public Roads
- 09N50B — Roads or Trails Less Than 0.25 mile (1320 feet) - See Table
- FS Campground
- Picnic Area
- Motorized Trailhead
- Information Site
- Peaks
- Forest or Unit Boundary
- National Forest System Lands
- Non-National Forest System Lands within the National Forest
- Wilderness Areas
- Large Lakes

0 1 2 Miles

North American Datum of 1983 (NAD 83)
Universal Transverse Mercator, zone 10

The U.S. Department of Agriculture (USDA) prohibits discrimination in all its programs and activities on the basis of race, color, national origin, age, disability, and where applicable, sex, marital status, familial status, parental status, religion, sexual orientation, genetic information, political beliefs, reprisal, or because all or part of an individual's income is derived from any public assistance program. (Not all prohibited bases apply to all programs.) Persons with disabilities who require alternative means for communication of program information (Braille, large print, audiotape, etc.) should contact USDA's TARGET Center at (202) 720-2600 (voice and TDD). To file a complaint of discrimination, write to USDA, Director, Office of Civil Rights, 1400 Independence Avenue, S.W., Washington, D.C. 20250-9410, or call (800) 795-3272 (voice) or (202) 720-6382 (TDD). USDA is an equal opportunity provider and employer.

Parking Along Designated Routes

Motor vehicles may be parked within one vehicle length from the edge of the road surface when it is safe to do so without causing damage to NFS resources or facilities, unless prohibited by State law, a traffic sign, or an order (36 CFR 261.54).

PURPOSE AND CONTENTS OF THIS MAP

The designations shown on this motor vehicle use map (MVUM) were made by the responsible official pursuant to 36 CFR 212.51; are effective as of the date on the front cover of this MVUM; and will remain in effect until superseded by next year's MVUM.

Jerry K Bird
Forest Supervisor, Plumas National Forest

It is the responsibility of the user to acquire the current MVUM. This map shows the National Forest System roads, National Forest System trails, and the areas on National Forest System lands in the Plumas National Forest that are designated for motor vehicle use pursuant to 36 Code of Federal Regulations (CFR) 212.51. This MVUM also identifies the vehicle classes allowed on each route and in each area; and any seasonal restrictions that apply on those routes and in those areas.

Designation of a road, trail, or area for motor vehicle use by a particular class of vehicle under 36 CFR 212.51 should not be interpreted as encouraging or inviting use or implying that the road, trail, or area is passable, actively maintained, or safe for travel. Motor vehicle designations include parking along designated routes and at facilities associated with designated routes when it is safe to do so and when not causing damage to National Forest System resources. Seasonal weather conditions and natural events may render designated roads and trails impassable for extended periods. Designated areas may contain dangerous or impassable terrain. Many designated roads and trails may be passable only by high-clearance vehicles or four-wheel-drive vehicles. Maintenance of designated roads and trails will depend on available resources, and many may receive little maintenance.

This motor vehicle use map identifies those roads, trails, and areas designated for the motor vehicle use under 36 CFR 212.51 for the purpose of enforcing the prohibition at 36 CFR 261.13. This is a limited purpose. The other public roads are shown for information and navigation purposes only and are not subject to designation under the Forest Service travel management regulation.

These designations apply only to National Forest System roads, National Forest System trails, and areas on National Forest System lands.

tread lightly!® LEAVING A GOOD IMPRESSION

Janesville Map - Roads Less Than .25 miles (1,320 ft)

Route Number	Length in Feet	Legend
24N08X	1056	Roads Open to All Vehicles, Yearlong
24N54Y	787	Roads Open to Highway Legal Vehicles Only, Yearlong
24N57A1	950	Roads Open to All Vehicles, Yearlong
24N58A	871	Roads Open to All Vehicles, Yearlong
24N60A	929	Roads Open to All Vehicles, Yearlong
24N61A	1061	Roads Open to All Vehicles, Yearlong
24N67XB	1056	Roads Open to All Vehicles, Yearlong
24N78X	1140	Roads Open to All Vehicles, Yearlong
24N85Y8	1098	Roads Open to All Vehicles, Yearlong
24N94YA	533	Roads Open to All Vehicles, Yearlong
26N15XB	898	Roads Open to All Vehicles, Yearlong
26N67X	533	Roads Open to All Vehicles, Yearlong
26N92	1056	Roads Open to All Vehicles, Yearlong
27N03	507	Roads Open to All Vehicles, Yearlong
27N07D	696	Roads Open to All Vehicles, Yearlong
27N07F	790	Roads Open to All Vehicles, Yearlong
27N19Y	1251	Roads Open to Highway Legal Vehicles Only, Yearlong
27N22Y	517	Roads Open to Highway Legal Vehicles Only, Yearlong
27N44B	1056	Roads Open to All Vehicles, Yearlong
27N44C	1061	Roads Open to All Vehicles, Yearlong
27N44D	465	Roads Open to All Vehicles, Yearlong
27N44E	533	Roads Open to All Vehicles, Yearlong
27N46M	840	Roads Open to All Vehicles, Yearlong
27N69	544	Roads Open to All Vehicles, Yearlong
27N87	517	Roads Open to All Vehicles, Yearlong
28N01N	1051	Roads Open to All Vehicles, Yearlong
28N01X	296	Roads Open to All Vehicles, Yearlong
28N02F2	1056	Roads Open to All Vehicles, Yearlong
28N02K	850	Roads Open to All Vehicles, Yearlong
28N03K	1220	Roads Open to All Vehicles, Yearlong
28N12B	1040	Roads Open to All Vehicles, Yearlong
28N15B	528	Roads Open to All Vehicles, Yearlong
29N43B	438	Roads Open to Highway Legal Vehicles Only, Yearlong
29N43E	734	Roads Open to All Vehicles, Yearlong

EXPLANATION OF LEGEND ITEMS

Roads Open to Highway Legal Vehicles Only:

These roads are open only to motor vehicles licensed under State law for general operation on all public roads within the State.

Roads Open to All Vehicles:

These roads are open to all motor vehicles, including smaller off-highway vehicles that may not be licensed for highway use (but not to oversize or overweight vehicles under State traffic law).

Trails Open to All Vehicles:

These trails are open to all motor vehicles, including both highway legal and nonhighway legal vehicles.

Trails Open to Wheeled Vehicles 50" or Less in Width:

These trails are open only to wheeled, motor vehicles less than 50 inches in width at the widest point on the vehicle.

Trails Open to Motorcycles Only:

These trails are open only to motorcycles. Sidecars are not permitted.

Seasonal Designation:

This symbol, used in conjunction with one of the other road or trail symbols, indicates that the road or trail is open only during certain portions of the year. Refer to the Seasonal Designation Table for further instructions.

Other Public Roads:

Highways, U.S., State, County
Other Public Roads

These symbols are used to show routes the Forest Service does not have jurisdiction over and has not designated for motorized use. These symbols are part of the reference layers showing connections to towns and cities outside the forest boundary.

Roads or Trails Less Than 0.25 Miles (1320 feet):

09N50B

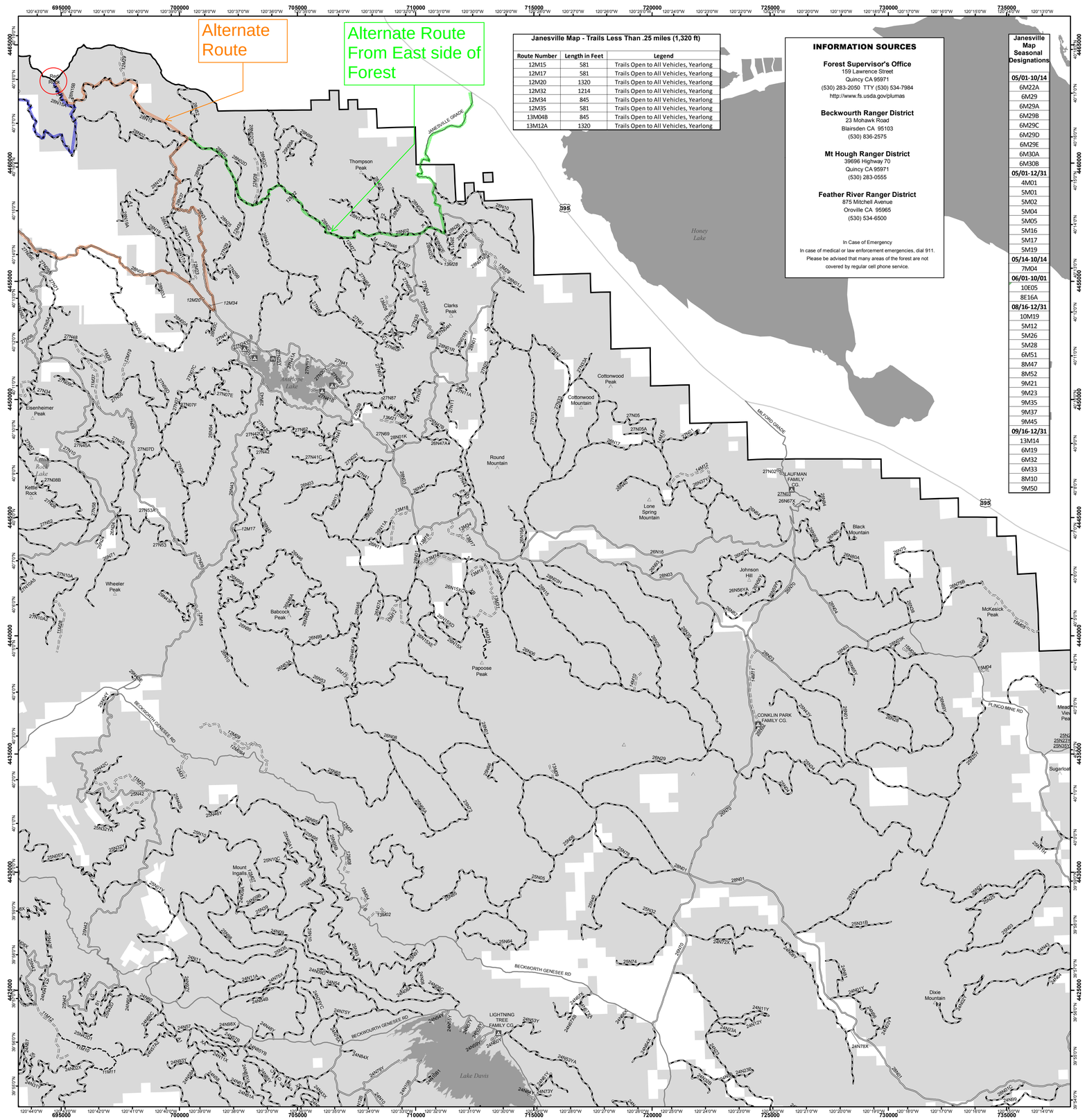
This symbol is used for routes that are too short to show an actual symbol type on the map. The symbol contains the number of the road or trail. Users should refer to the corresponding number in the Short Route Table for designation information.

Motorized Trail Access:

This symbol indicates a trailhead for access to a motorized route. Not all motorized routes have trailheads and those that do may range from primitive to developed.

Vicinity Map





Janesville Map - Trails Less Than .25 miles (1,320 ft)

Route Number	Length in Feet	Legend
12M15	581	Trails Open to All Vehicles, Yearlong
12M17	581	Trails Open to All Vehicles, Yearlong
12M20	1320	Trails Open to All Vehicles, Yearlong
12M32	1214	Trails Open to All Vehicles, Yearlong
12M34	845	Trails Open to All Vehicles, Yearlong
12M35	581	Trails Open to All Vehicles, Yearlong
13M04B	845	Trails Open to All Vehicles, Yearlong
13M12A	1320	Trails Open to All Vehicles, Yearlong

INFORMATION SOURCES

Forest Supervisor's Office
159 Lawrence Street
Quincy CA 95971
(530) 283-2050 TTY (530) 534-7984
http://www.fs.usda.gov/plumas

Beckwourth Ranger District
23 Mohawk Road
Blairsden CA 95103
(530) 836-2575

Mt Hough Ranger District
39696 Highway 70
Quincy CA 95971
(530) 283-0555

Feather River Ranger District
875 Mitchell Avenue
Oroville CA 95965
(530) 534-6500

In Case of Emergency
In case of medical or law enforcement emergencies, dial 911. Please be advised that many areas of the forest are not covered by regular cell phone service.

Janesville Map Seasonal Designations

05/01-10/14
6M22A
6M29
6M29A
6M29B
6M29C
6M29D
6M29E
6M30A
6M30B
05/01-12/31
4M01
5M01
5M02
5M04
5M05
5M16
5M17
5M19
05/14-10/14
7M04
06/01-10/01
10E05
8E16A
08/16-12/31
10M19
5M12
5M26
5M28
6M51
8M47
8M52
9M21
9M23
9M35
9M37
9M45
09/16-12/31
13M14
6M19
6M32
6M33
8M10
9M50